OSGeoLive for the Spatial Ecology courses

Mastering several Open Source software in a Linux OS

VirtualBox

Start the VirtualBox application and click on the New button to create a new VM, and then Next.

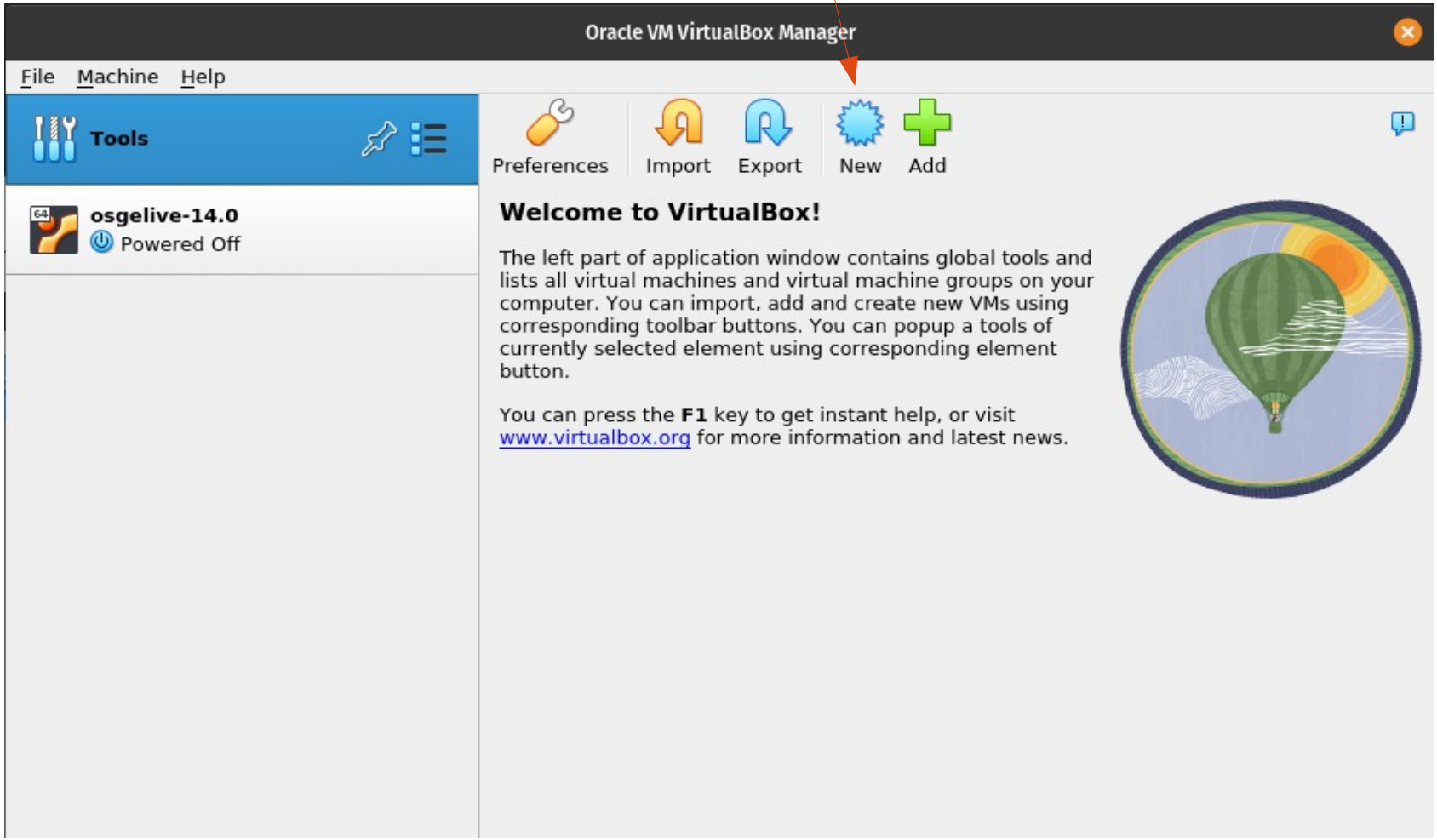

Create Virtual Machine
Enter a name such as osgeolive-13, and choose Linux as the “Operating system”, and Ubuntu (64bit) as “Version”.

Pay attention if you do not see Ubuntu (64bit) but only Ubuntu (32bit) *means that your BIOS is not set for virtualization. Enter BIOS according to your PC configuration and enable virtualization (see example at https://goo.gl/Zgq14A)*

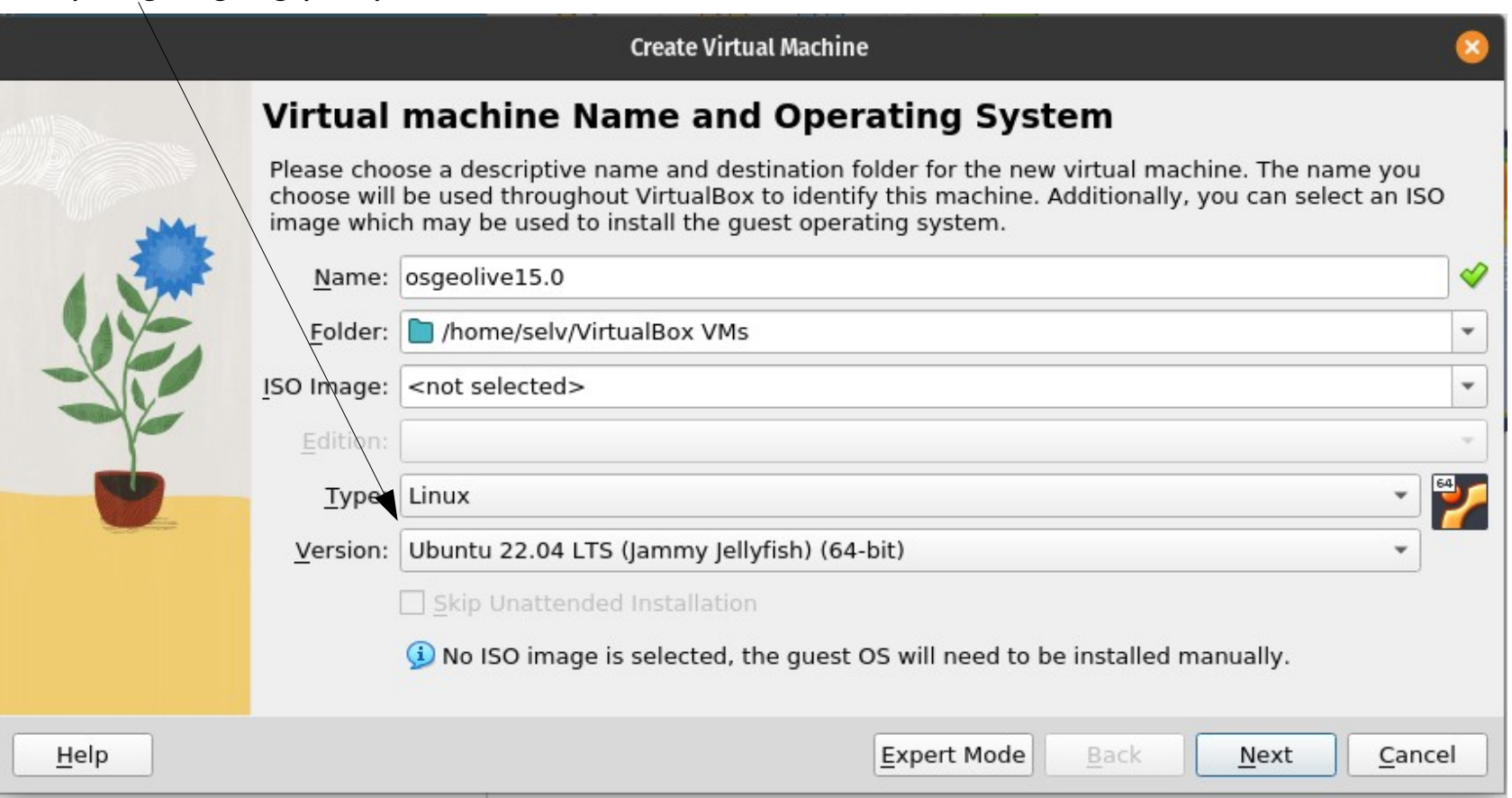

Leave the default path of your OS

Set memory size

Set the memory Size (~2G). The dedicate RAM for the VM can change according to the RAM of your host-pc. Do not overpass the green area!

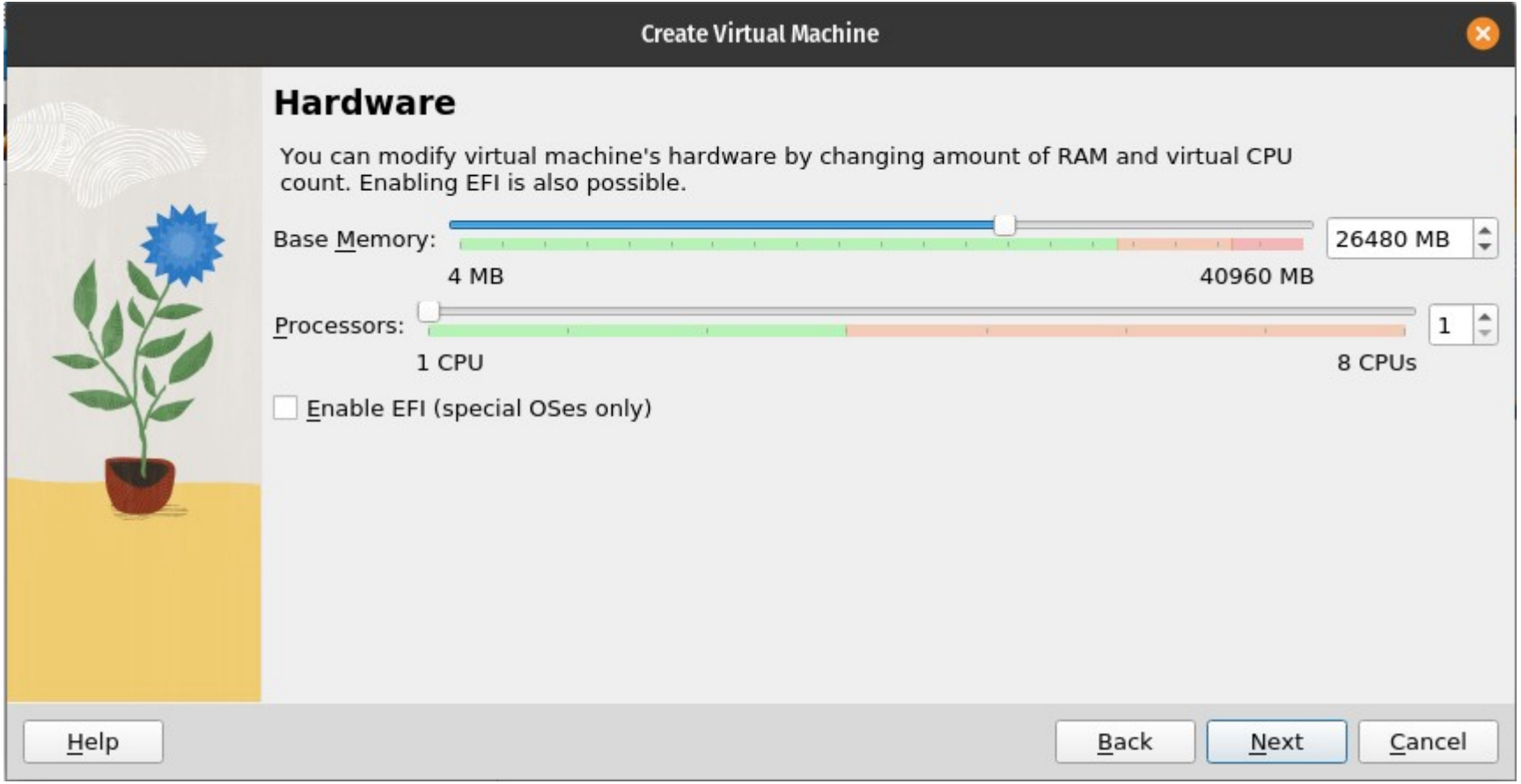

Load the vmdk file

Choose “Use existing virtual hard disk file”.

Now click on the button (a folder yellow icon) to browse to where you saved the osgeolive-15.0-amd64.vmdk file.

Select the file, press Next and Create.

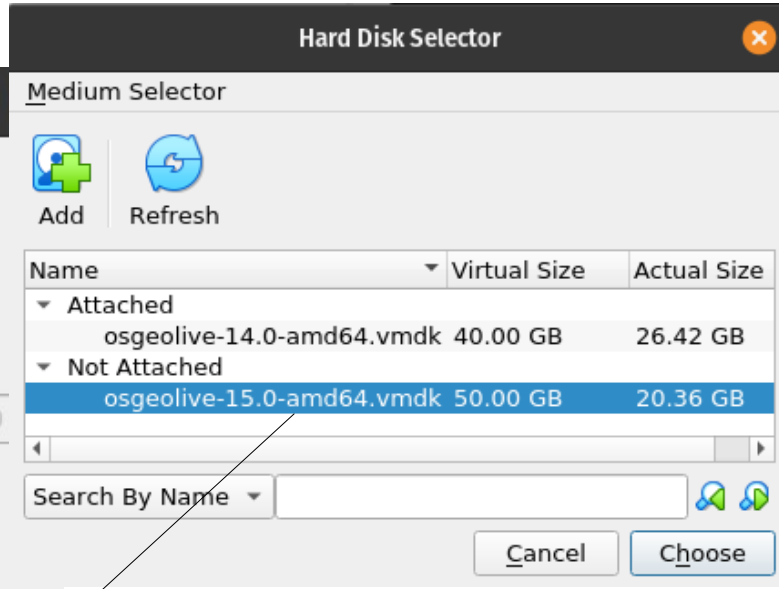

Overview
Check if everything is correct

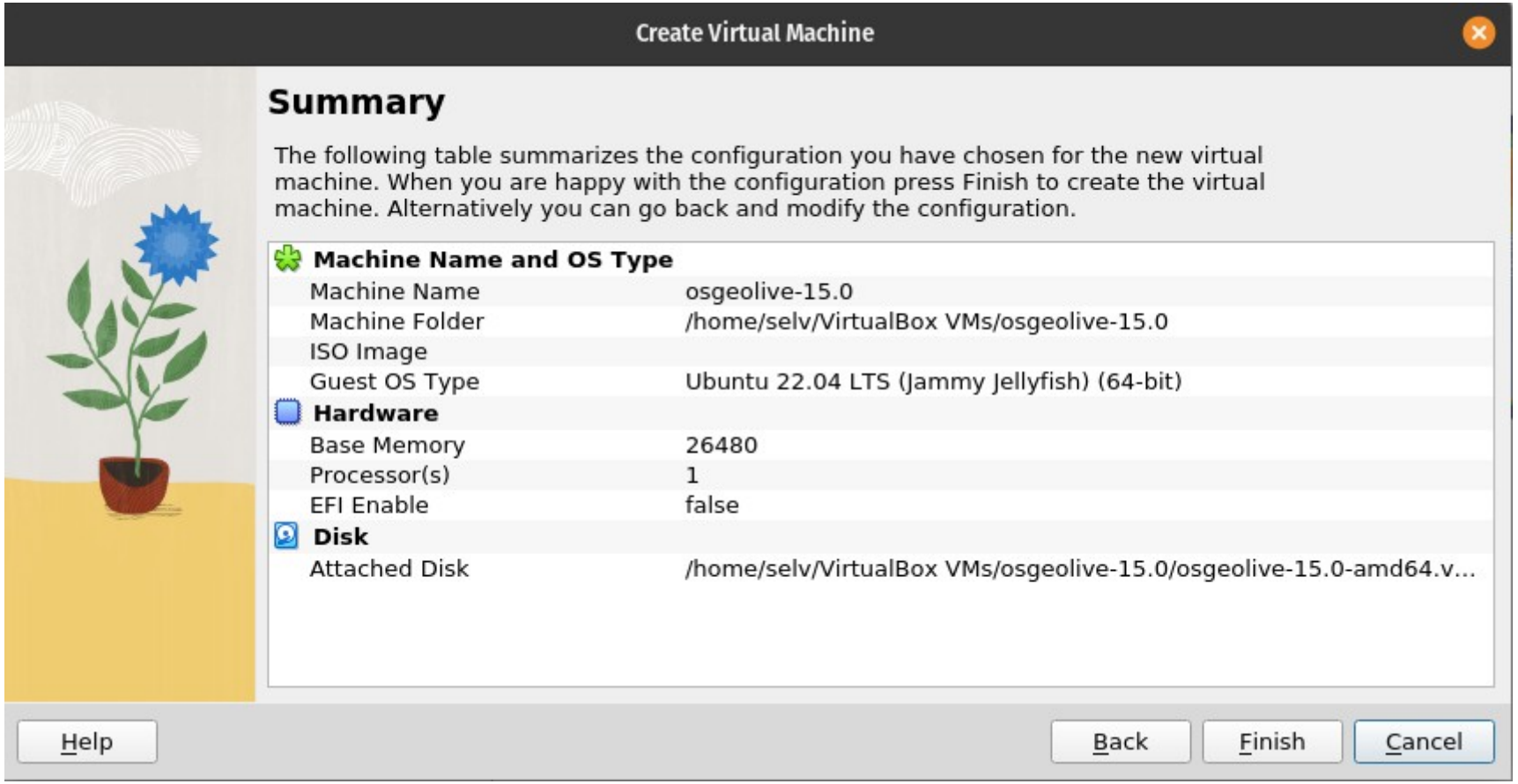

Setup
Adjust the settings

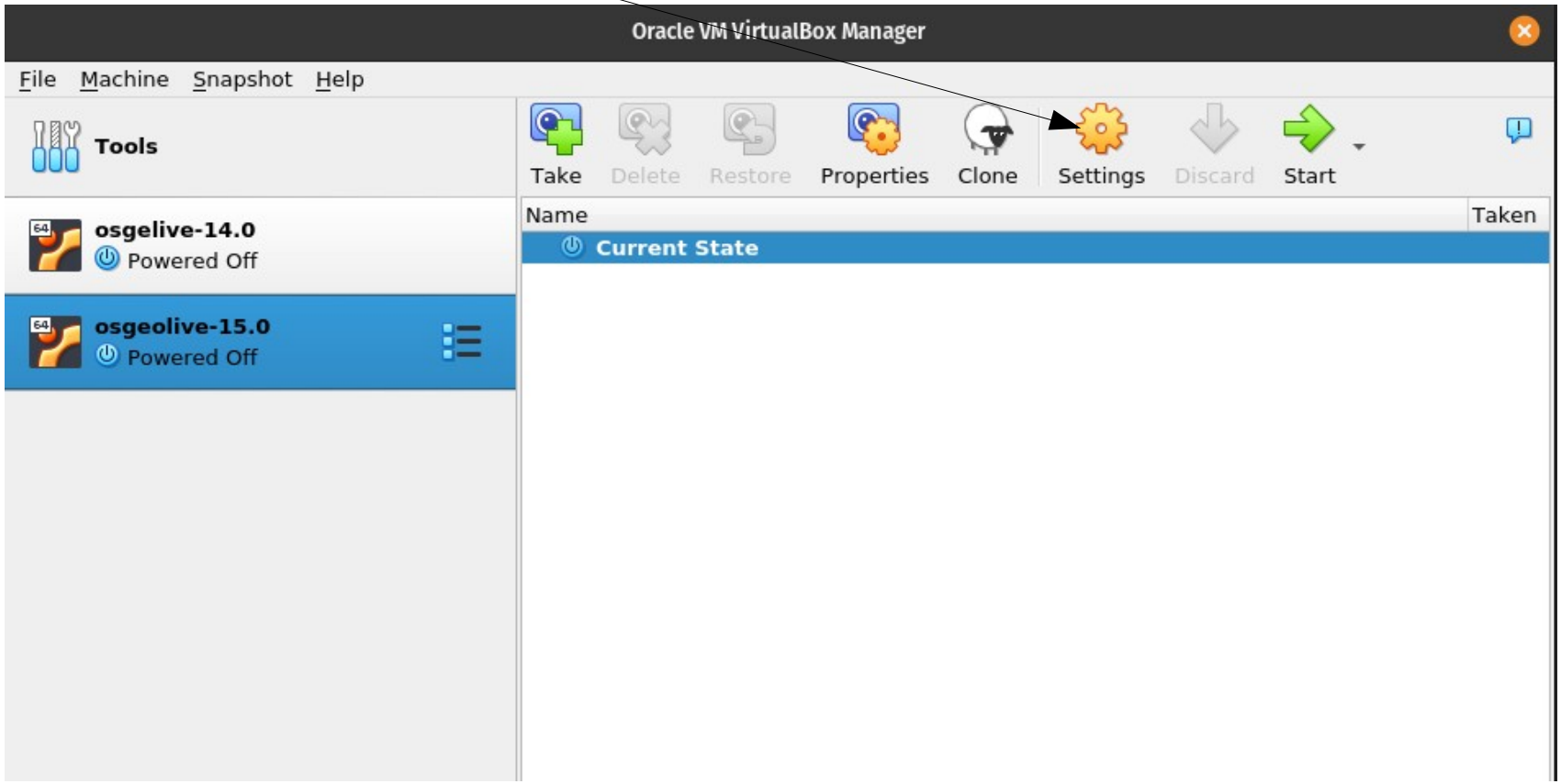

Virtual Machine settings
In VirtualBox → setting → General

Set Shared Clipboard and Drag and Drop to Bidirectional Optional.
Do not change the Snapshot Folder

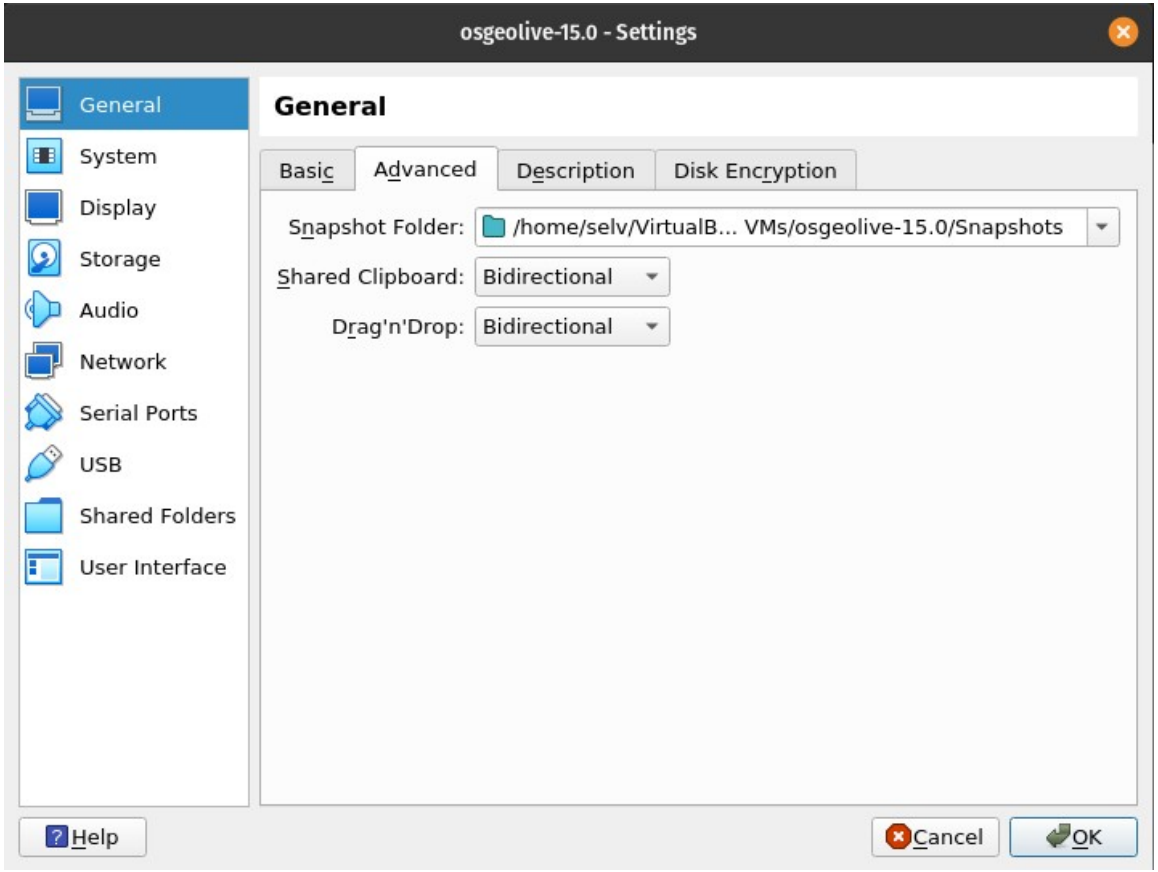

Sharing folder

Create an empty folder named LVM_shared in your OS

MAC OS X: /Users/*yourname*/LVM_shared

Windows OS: C:\Users*yourname*\Documents\LVM_shared

Linux: /home/*yourname/LVM_shared*

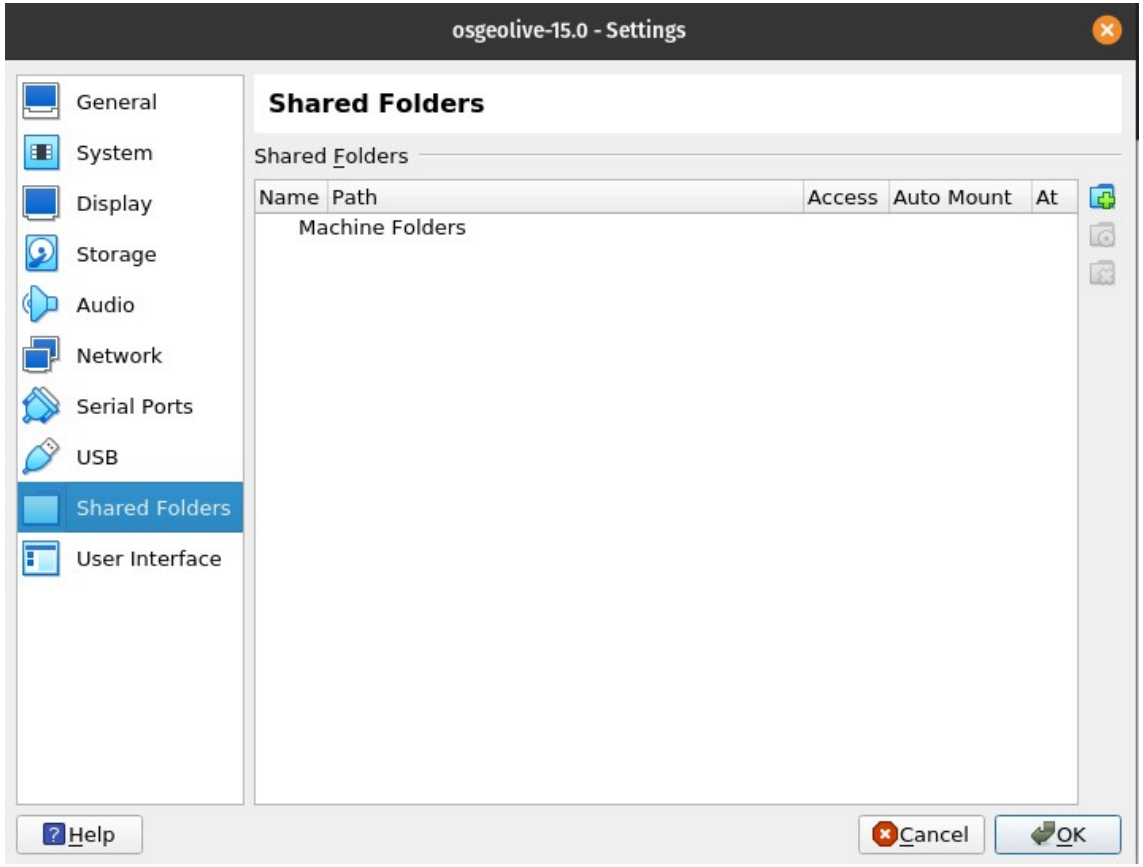

Sharing folder

Add new shared folder in VirtualBox → setting → shared folders →
Navigate to the host OS LVM_shared folder.
Activate the Auto-mount option and click OK

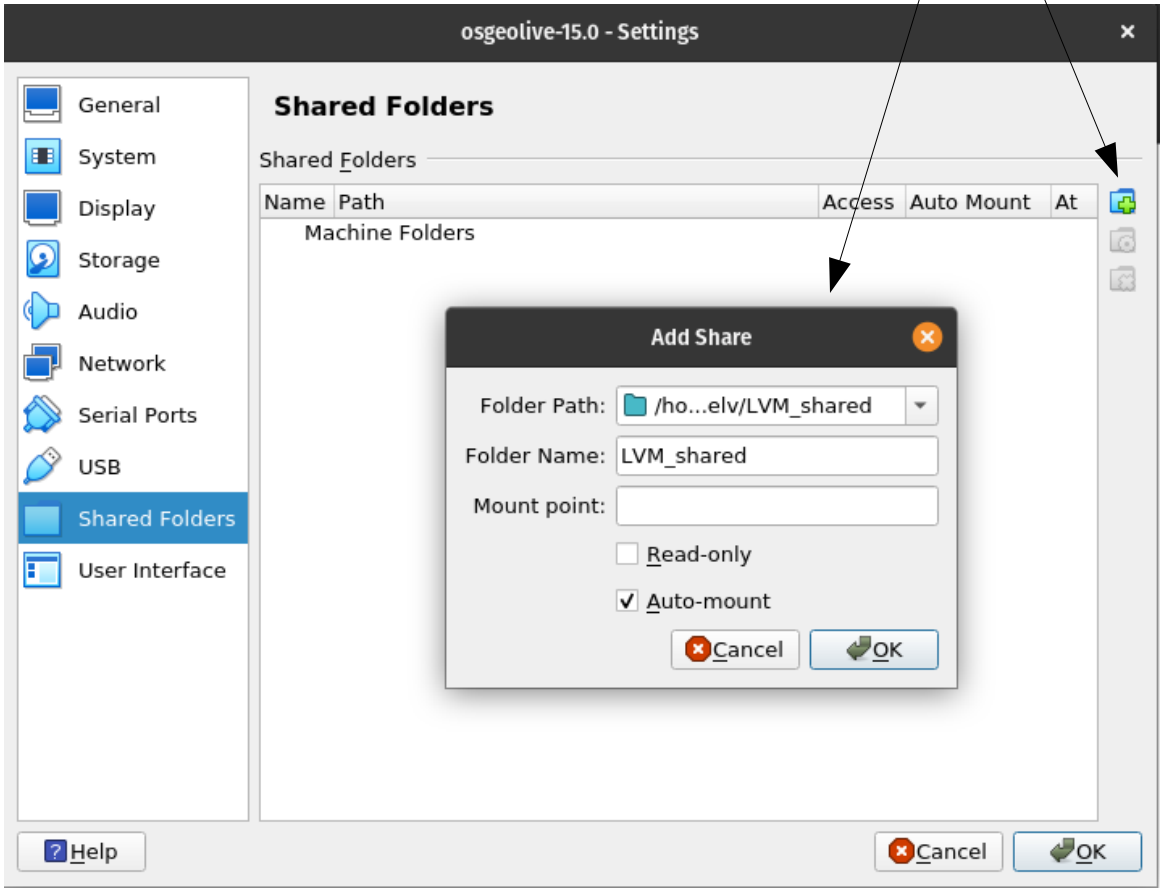

Snapshots

Create a snapshots of the current version. It will be useful for going back if something is not working

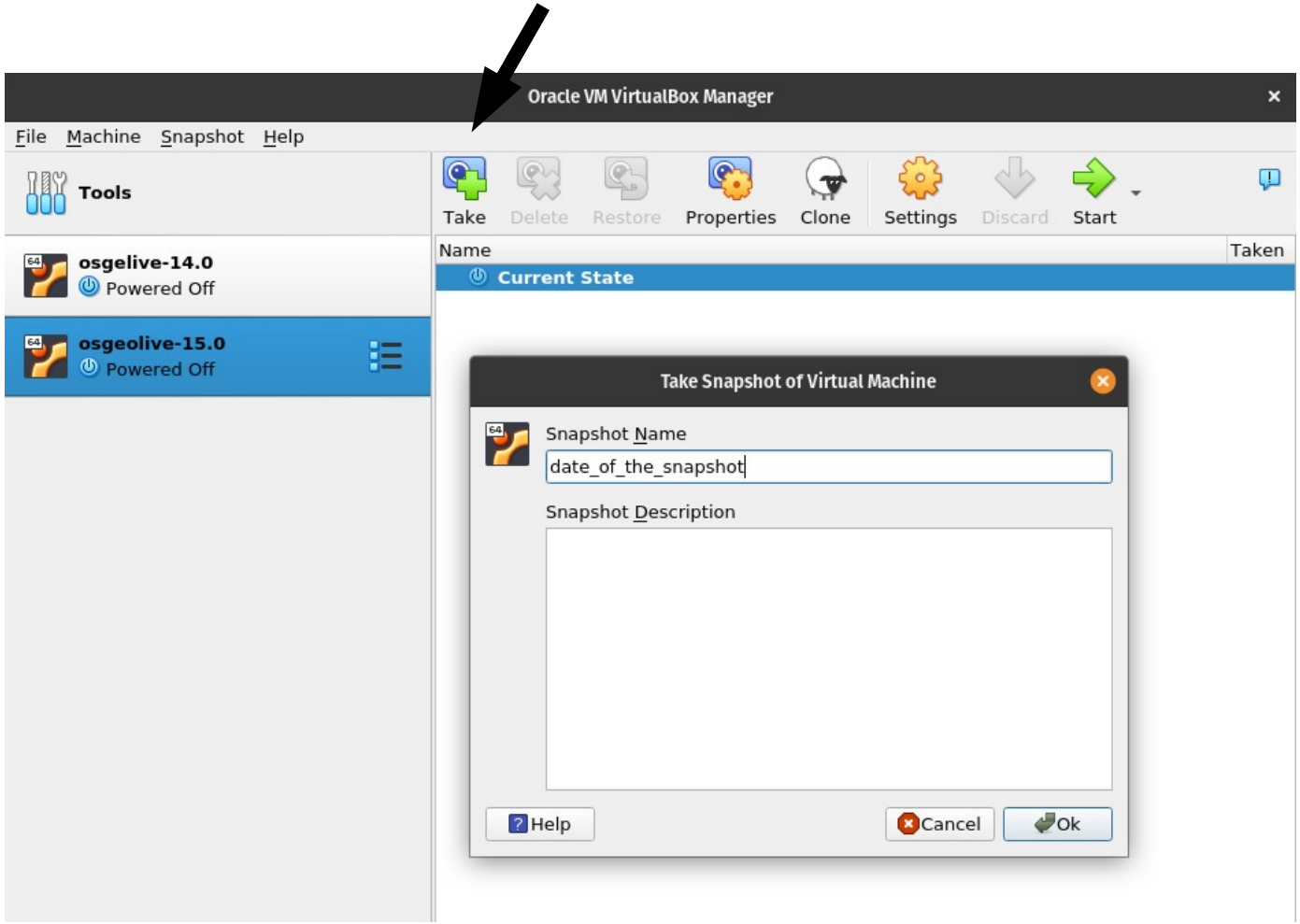

Start the Virtual Machine

At this point you can press the start arrow to boot the Linux Virtual Machine

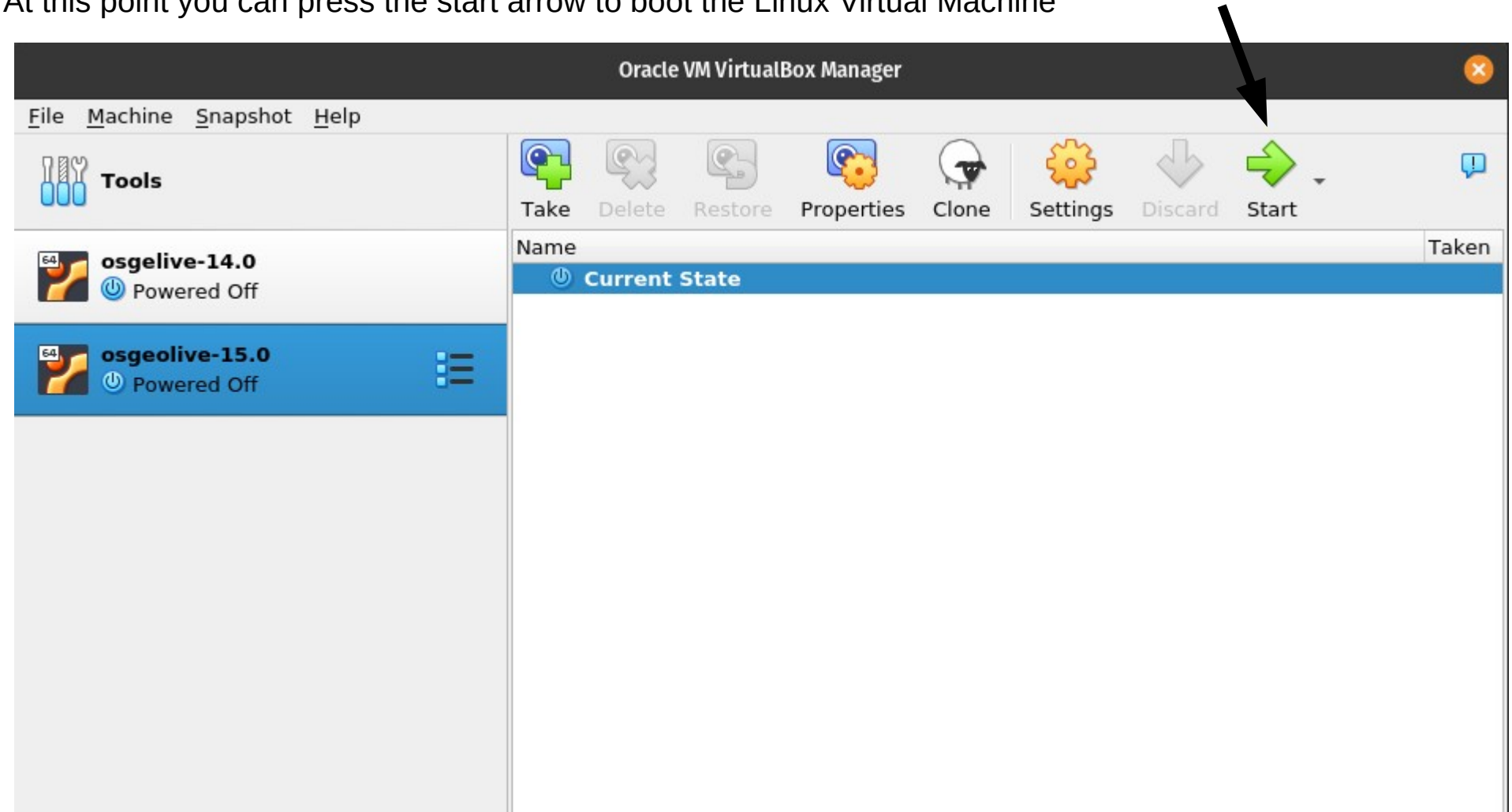

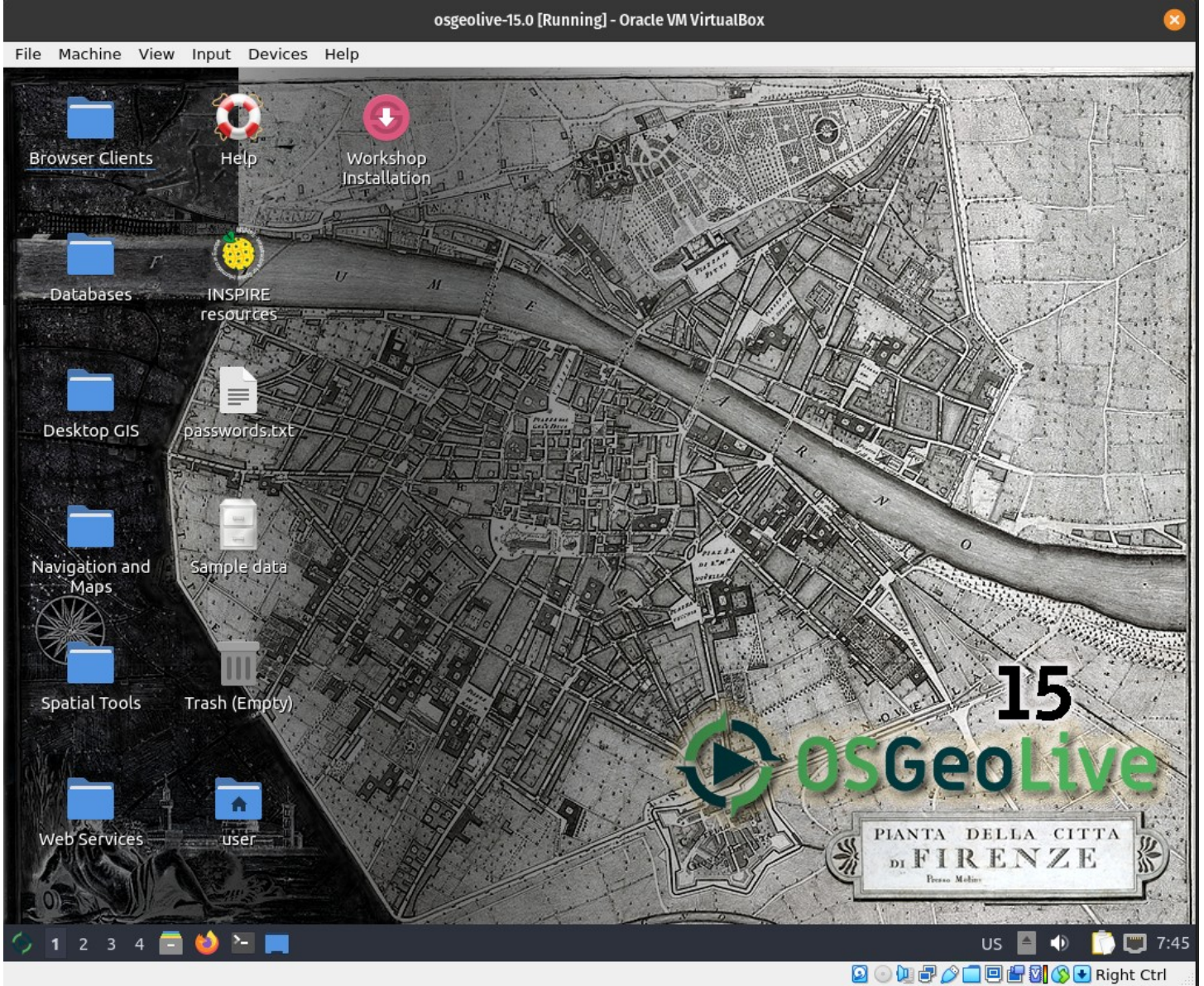
osgeolive-15.0 [Running] - Oracle VM VirtualBox
File Machine View Input Devices Help
Browser Clients
Help
Workshop Installation
Databases
INSPIRE resources
Desktop GIS
passwords.txt
Navigation and Maps
Sample data
Spatial Tools
Trash (Empty)
Web Services
user
15
OSGeoLive
PIANTA DELLA CITTA DI FIRENZE
1 2 3 4
US
7:45
Right Ctrl